Chapter 4: **Evaporitic Deposits**

Sedimentary Rock Formations from Evaporation

Continental

Shallow Marine

Deep Basin

Dr. S. BRAHMI

Evaporitic Deposits in Algeria

Formation, Distribution, and Economic Significance

An exploration of evaporitic deposits across Algeria's diverse geological landscape

Introduction to Evaporitic Deposits

What are Evaporitic Deposits?

Sedimentary rocks formed from the precipitation of minerals due to the evaporation of saline water, crucial indicators of past arid climates and restricted basin conditions.

Formation Conditions

Arid Climate: Evaporation must exceed precipitation

Restricted Basin: Limited connection to open ocean

Saline Water Supply: Sustained input of saline water

Subsidence: Basin must subside at comparable rate to deposition

Mineral Precipitation Sequence

Mineral Group	Salinity Factor
Carbonates	3.5-5x
Sulfates	5-10x
Halite	10-12x
Potash & Magnesium	20-30x

Introduction to Algerian Evaporites

Formation Conditions

- Arid to semi-arid climate with high evaporation rates
- Restricted basins with limited connection to open oceans
- Continuous supply of saline water
- Subsidence to allow for thick evaporite accumulation

Geological Significance

- Key elements in Algeria's tectonic evolution
- Critical for hydrocarbon exploration and trapping
- Source of industrial minerals (halite, gypsum)
- Markers of past arid climates and paleogeography

Distribution Patterns

- Triassic salt basins in Sahara Atlas and northern Algeria
- Extensive continental evaporites in chotts and sebkhas
- Miocene shallow marine evaporites in Chelif Basin
- Widespread Quaternary evaporites in endorheic basins

Evaporite Types Through Time

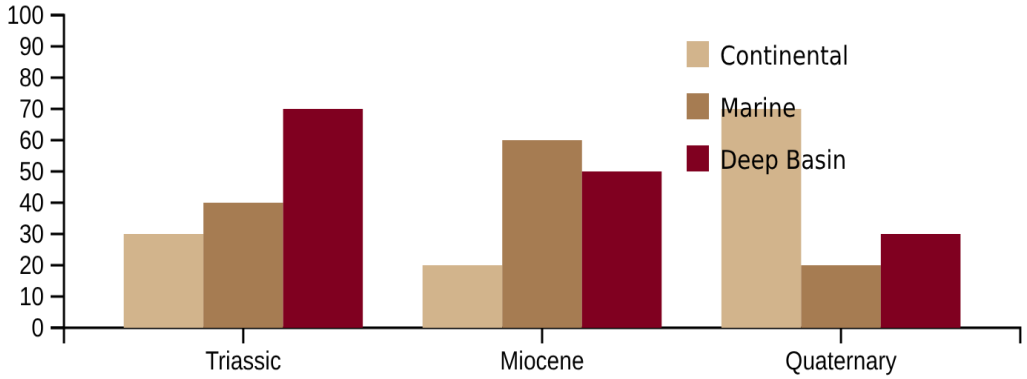

Formation Conditions and Requirements

Essential Conditions

The formation of evaporite deposits requires a specific set of geological and climatic conditions that promote the concentration of dissolved salts to saturation levels.

Arid Climate

Evaporation must significantly exceed precipitation to concentrate the dissolved salts in the water body.

Source: Warren, 2006

Restricted Basin

A basin with limited connection to the open ocean or a larger freshwater source is necessary to prevent dilution and allow for concentration of brines.

Source: Kendall, 1992

Saline Water Supply

A sustained input of saline water, from seawater, groundwater, or surface runoff, is required to replenish salts being precipitated.

Source: Schreiber & Hsü, 1980

Subsidence

For thick evaporite sequences to accumulate, the basin must subside at a rate comparable to the rate of sediment deposition.

Source: Warren, 2006

Mineral Precipitation Sequence

As saline water evaporates, minerals precipitate in a predictable sequence based on their solubility. This sequence, from least soluble to most soluble, is a fundamental characteristic of evaporite formation.

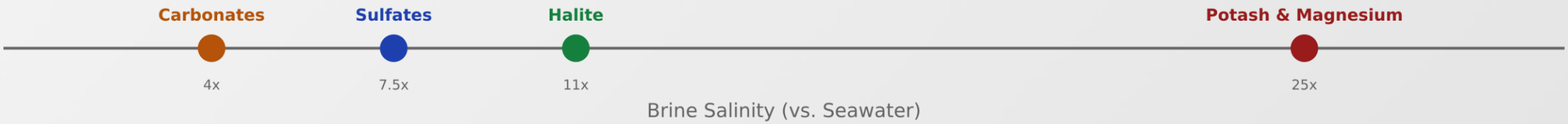

Carbonates

Formula: $CaCO_3$

Salinity: 3.5-5x

First to precipitate when salinity reaches about 3.5 to 5 times that of normal seawater.

Sulfates

Formula: $CaSO_4 \cdot 2H_2O$

Salinity: 5-10x

Precipitates as gypsum, which can dehydrate to anhydrite at higher temperatures.

Halite

Formula: NaCl

Salinity: 10-12x

Common table salt, precipitates when the brine becomes highly concentrated.

Potash & Magnesium

Formula: KCl, $KMgCl_3 \cdot 6H_2O$

Salinity: 20-30x

Last to precipitate, requiring extreme levels of evaporation and very high brine concentrations.

Major Evaporite Basins in Algeria

Triassic Salt Basins

Location

- Saharan Atlas mountain range
- Northern Algeria sedimentary basins

Characteristics

- Thick evaporite sequences primarily of halite
- Form salt diapirs (salt domes)
- Act as décollement layers
- Facilitate thrust tectonics

Significance

- Influence structural development of overlying sediments
- Create and seal hydrocarbon traps
- Key to understanding regional tectonics

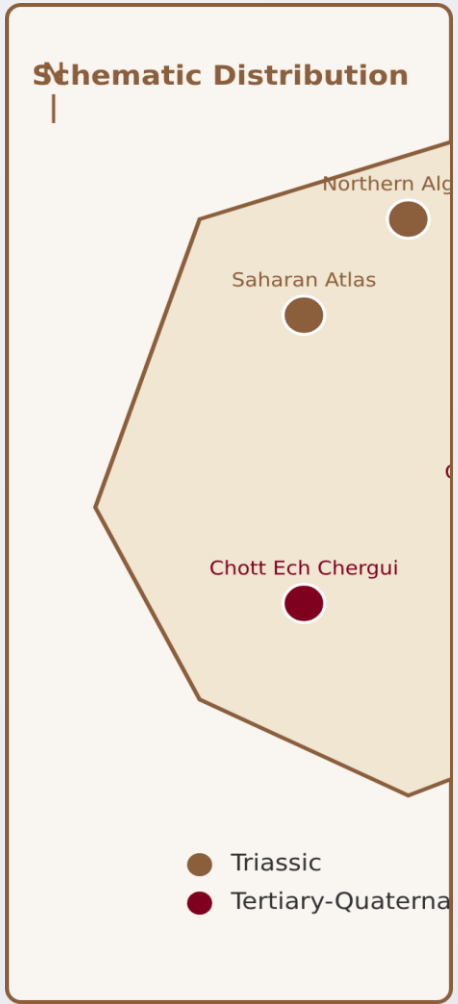

Tertiary & Quaternary Deposits

Location

- Continental settings forming chotts and sebkhas
- Notable examples: Chott Melrhir and Chott Ech Chergui

Mineralogy

- Halite (NaCl): Forms thick crusts in central parts
- Gypsum ($CaSO_4 \cdot 2H_2O$): Common along margins
- Anhydrite ($CaSO_4$): Occurs at depth as dehydration product

Formation

- Arid to semi-arid climate conditions

Continental Evaporites

Definition

Continental evaporites form in inland, non-marine environments that are hydrologically isolated from direct oceanic influence, characterized by unique mineralogy and sedimentary structures.

Arid landscape with playa lakes, an important setting for continental evaporite formation

Depositional Settings

Playa Lakes

Ephemeral, shallow lakes in arid basins that periodically fill with water and dry out, leaving behind evaporite minerals.

Saline Pans

Shallow depressions where highly concentrated brines accumulate, often more persistent than playa lakes.

Continental Sabkhas

Supratidal or intertidal flats in inland basins where groundwater evaporation leads to evaporite precipitation.

Formation Environment

Arid to Semi-Arid Climate: Evaporation significantly exceeds precipitation

Hydrological Isolation: Limited connection to oceanic systems

Unique Mineralogy: Often contains borates, nitrates, and sodium carbonates/sulfates not found in marine settings

Continental Evaporites in Algeria

Endorheic Basins

Algeria's continental evaporites form in endorheic basins with internal drainage and arid to semi-arid climates.

- **Chott Melrhir** - Large ephemeral saline lake in the Sahara
- **Chott Ech Chergui** - Another prominent ephemeral lake

Playa lakes and evaporite settings in Algeria

Formation Process

- Water accumulation during rainfall periods
- Dissolution of salts from surrounding sediments
- Capillary evaporation draws saline groundwater to surface
- Seasonal flooding redissolves and reprecipitates minerals

Characteristic Minerals

Mineral	Chemical Formula	Properties
Halite	$NaCl$	Common table salt
Gypsum	$CaSO_4 \cdot 2H_2O$	Soft sulfate mineral
Anhydrite	$CaSO_4$	Dehydrated sulfate

Continental Evaporite Characteristics

Continental Setting

Continental evaporites form in arid to semi-arid regions in inland, non-marine environments that are hydrologically isolated from direct oceanic influence.

Examples: Death Valley (USA), Qaidam Basin (China), Salar de Atacama (Chile)

Sedimentary Features

Mudcracks

Common in playa lake and sabkha environments, indicating periodic wetting and drying cycles

Tepee Structures

Formed by expansion of evaporite minerals during diagenesis, creating buckle folds and upward-pointing structures

Unique Mineralogy

Borates

Borax, ulexite - often found in volcanic-rich drainage basins

Nitrates

Nitratine, niter - typically associated with arid climates

Sodium Carbonates/Sulfates

Trona, thenardite, mirabilite - precipitate from highly alkaline brines

Continental Evaporite Characteristics

Distinctive Features

Endorheic Basins

Internal drainage systems in arid to semi-arid climates

Salt Crusts

Primarily halite and gypsum formations

Seasonal Layering

Varied precipitation patterns create distinct layers

Capillary Evaporation Process

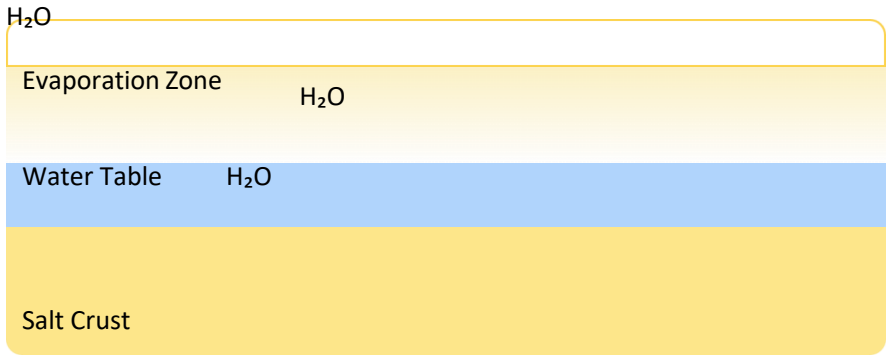

Process Details

Seasonal Flooding

- Rainfall periods
- Saline water accumulation

Evaporation

- High temperatures
- Capillary action

Precipitation

- Salt crystallization
- Seasonal layering

Shallow Marine Evaporites

Formation Environments

Shallow marine evaporites form in coastal settings with connection to the open ocean, where seawater undergoes evaporation, leading to mineral precipitation.

Sabkha Model

- Supratidal flats
- Capillary action + storm surges
- Rapid evaporation
- Primary minerals: Gypsum, Anhydrite

Salina Model

- Restricted coastal lagoons
- Limited connection to open sea
- Progressive brine concentration
- Minerals: Gypsum, Anhydrite, Halite

Key Characteristics

Laminated Textures
Seasonal or cyclical precipitation

Nodular Structures
Anhydrite nodules form diagenetically

Mineral Suite
Gypsum, Anhydrite, Halite

Modern Example

The Persian Gulf sabkhas serve as an excellent modern example, showcasing gypsum and anhydrite development in supratidal environments.

Shallow Marine Evaporites in Algeria

Miocene Chelif Basin

Shallow marine evaporites in Algeria's Miocene Chelif Basin formed through two primary models:

- Restricted connection to the Mediterranean Sea
- High evaporation rates in arid climate
- Formation of sabkha and salina environments
- Evaporite minerals: gypsum, anhydrite, halite

Key Features:

- Laminated gypsum/anhydrite deposits
- Nodular anhydrite formations
- Seasonal precipitation patterns

Sabkha Model

- Forms on arid coastal supratidal flats
- Seawater drawn onto flats by capillary action
- Rapid evaporation creates hypersaline brines
- Minerals precipitate within sediment pore spaces

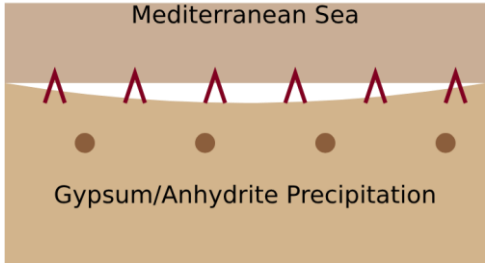

Salina Model

- Forms in restricted coastal lagoons (salinas)
- Limited connection to open sea
- Seawater inflow creates circulating brines
- Progressive precipitation as salinity increases

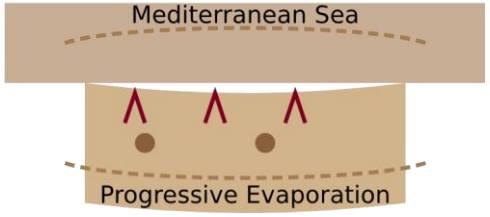

Shallow Marine Characteristics

Key Characteristics

- Formed in coastal environments with limited ocean connection
- Primary minerals: Gypsum, Anhydrite, Halite
- Often show laminated or nodular structures
- Associated with carbonate platforms and shelves

Sedimentary Structures

Laminated Gypsum/Anhydrite

Represents seasonal precipitation cycles

Nodular Anhydrite

Forms as diagenetic nodules in sabkha environment

Mineral Sequence

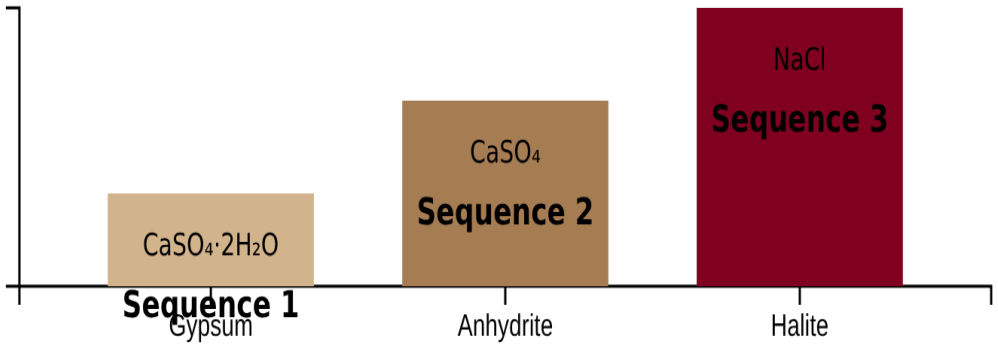

Algerian Examples

Chelif Basin

Miocene deposits of gypsum, anhydrite, and halite

Modern Sabkhas

Persian Gulf analogues in northern Algeria

Deep Basin Evaporites

Definition

Vast, often kilometers-thick accumulations of evaporitic minerals formed within subsiding basins, characterized by extensive lateral continuity and significant vertical thickness.



Formation Models

Deep-Water, Deep-Basin Model

- Stratified water column in a deep basin
- Dense, hypersaline brines accumulate at the bottom
- Connection to open ocean allows continuous replenishment

Shallow-Water, Deep-Basin (Desiccated Basin) Model

- Basin isolation from open ocean
- Significant desiccation occurs
- Evaporites precipitate in shallow-water environment

Example: Messinian Salinity Crisis (5.97-5.33 million years ago) in the Mediterranean Sea

Deep Basin Evaporites and Salt Tectonics

Triassic Salt Deposits

- Extensive rift basin deposits formed during Triassic period
- Thick salt layers acting as décollement surface
- Primary source for diapirism in Algeria

Salt domes and surface expressions in arid landscape

Salt Tectonics Mechanism

- Upward movement of less dense salt through denser overburden
- Creates dome-like or piercement structures (salt domes and diapirs)
- Results in salt walls, ridges, and salt welds

Impact on Petroleum Systems

- Critical elements in Algerian petroleum system
- Creates diverse structural traps
- Acts as impermeable seal for hydrocarbon accumulation
- Influences basin architecture and exploration targets

Structural Features

- Salt domes and diapirs creating traps for hydrocarbons
- Complex fault systems in surrounding sedimentary rocks
- Salt welds formed where salt flows out from beneath overburden

Salt Diapirism Process

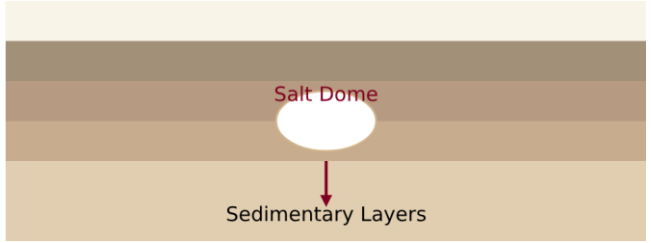

Economic and Structural Significance

Economic Applications

Industrial Salt & Potash: Sources for chemical manufacturing, de-icing, food preservation, and fertilizers

Hydrocarbon Cap Rocks: Thick, impermeable evaporite layers act as traps for oil and gas

Underground Storage: Ideal for natural gas, crude oil, and even radioactive waste storage

Salt domes and structural features in geological formations

Structural Features

Salt Domes & Diapirs

Dome-like structures formed when salt rises through overlying sediments

Salt Walls & Ridges

Elongated salt intrusions that influence basin architecture

Salt Welds

Surfaces where salt has been removed by flow, allowing overlying strata to collapse

Complex Fault Systems

Faults and folds created by salt movement that impact basin architecture

Impact on Hydrocarbon Exploration

Salt tectonics creates traps for hydrocarbons and complicates geological interpretation, making understanding these processes crucial for exploration success.

Understanding evaporite structures

is key to successful hydrocarbon exploration

Economic and Industrial Significance

Mineral Resources

- Industrial Salt (Halite)
  - Extensive deposits in chotts and sebkhas
  - Applications: food processing, chemical manufacturing, water treatment
- Gypsum
  - Key raw material for cement and construction
- Emerging Resources
  - Potash and magnesium salts for fertilizers

Halite crystals from Algerian deposits

Economic Value Chain

Hydrocarbon Exploration

Triassic Salt Structures

- Fundamental elements in the Algerian petroleum system
- Act as impermeable seals for hydrocarbon traps
- Enable diverse structural traps through plastic deformation

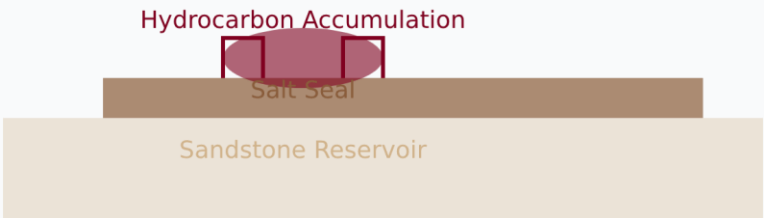

Salt structures create traps and seal hydrocarbon accumulations

Shallow Marine Characteristics

Distinctive Features

Laminated Deposits
Fine laminae indicating seasonal or cyclical precipitation events in response to varying evaporation rates.

Nodular Structures
Anhydrite nodules form diagenetically within sediment as gypsum dehydrates, or as primary precipitates in sabkha environments.

Mineral Assemblages
Classic sequence: Gypsum ($CaSO_4 \cdot 2H_2O$), Anhydrite ($CaSO_4$), and Halite ($NaCl$), depending on degree of restriction and evaporation.

Modern Examples

The Persian Gulf sabkhas represent an excellent contemporary example of shallow marine evaporite formation, showcasing gypsum and anhydrite development within supratidal sediments.

Diagnostic Features

- Seasonal laminae in gypsum/anhydrite
- Enterolithic structures form during diagenesis
- Associated with carbonate platforms and shelves

Environmental Challenges and Future Research

Environmental Challenges

- Overexploitation of evaporite resources threatening ecosystem balance
- Groundwater depletion affecting natural evaporite formation processes
- Soil salinization from intensive agricultural practices
- Mineral extraction impacts on fragile desert landscapes

Climate Change Impacts

- Altered precipitation patterns affecting basin hydrology
- Increased temperatures enhancing evaporation rates in endorheic basins
- Sea level changes impacting shallow marine evaporite environments
- Extreme weather events disrupting sedimentary processes

Sustainable Management

- Implementing resource quotas for industrial salt extraction
- Developing restoration protocols for mined evaporite landscapes
- Integrating traditional knowledge for sustainable exploitation
- Establishing protected areas for rare evaporite formations

Future Research Directions

- Long-term monitoring of evaporite environment changes
- Investigating halokinetic responses to climate variability
- Exploring biogeochemical processes in evaporite systems
- Developing predictive models for resource sustainability